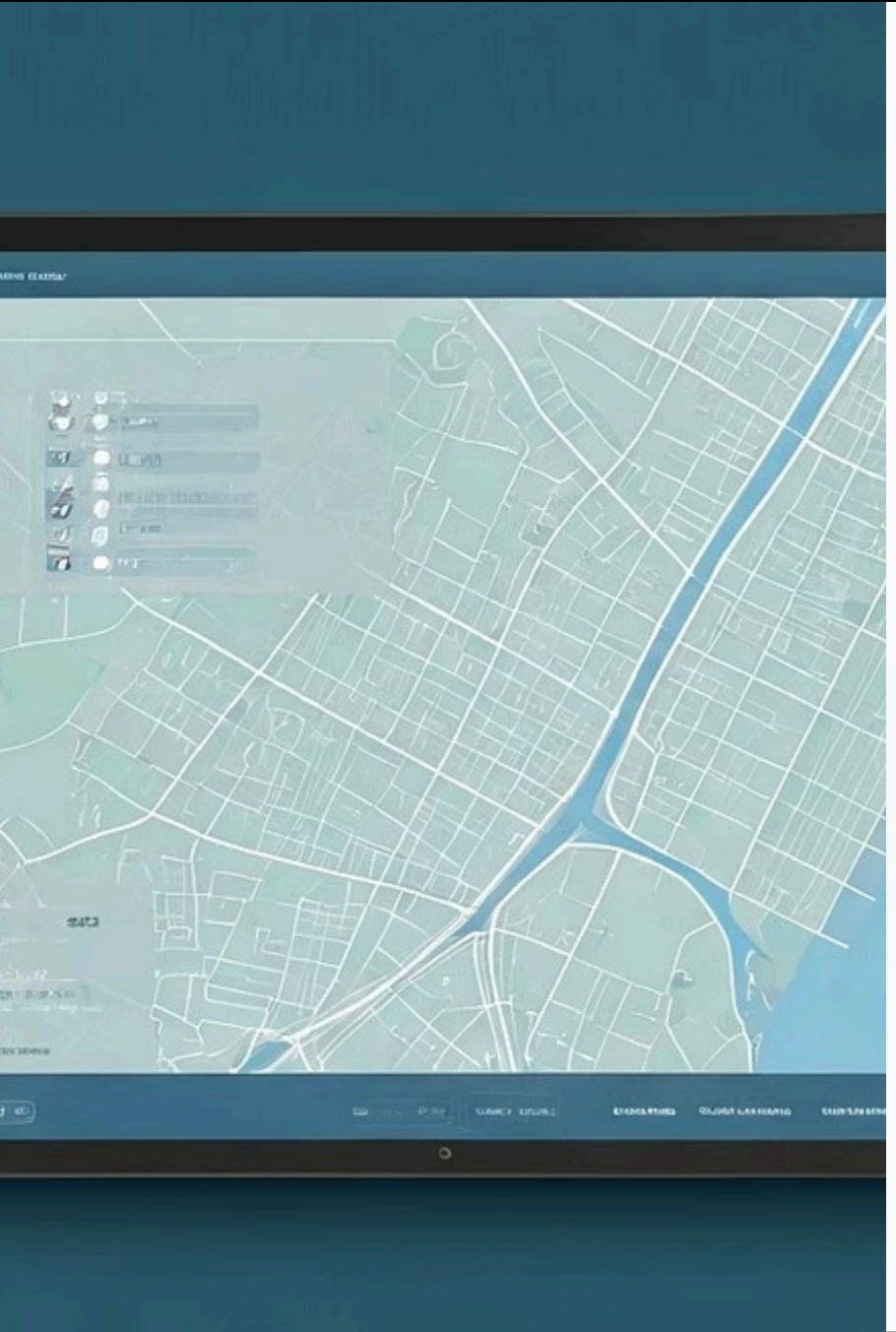

Web-Based GIS

Welcome to our presentation on the exciting world of Web-Based Geographic Information Systems (GIS). In today's digital landscape, GIS technology has evolved beyond traditional desktop applications, empowering users to access and analyze geospatial data right from their web browsers. This presentation will explore the key components, benefits, and challenges of implementing web-based GIS solutions, as well as provide insights into the future of this transformative technology.

by SHRINJAY SHRESTH

Made with GAMMA

Introduction to Web Mapping Applications

What are Web Mapping Applications?

Web mapping applications are browser-based tools that allow users to visualize, interact with, and analyze geospatial data. These applications leverage the power of the internet to provide access to a wide range of maps, geographic data, and analytical tools, all within a user-friendly online interface.

Key Features

- Interactive maps with panning, zooming, and overlaying of data layers
- Querying and analyzing spatial data
- Collecting and sharing user-generated geographic information
- Real-time data updates and location-based services

Made with GAMMA

Importance of Web-Based GIS

Widespread Accessibility

Web-based GIS platforms provide geospatial data and analysis tools to a wide range of users, democratizing access to powerful geographic information systems.

Real-Time Data Sharing

The internet enables the rapid dissemination of up-to-date geospatial information, enabling timely decision-making and collaboration across organizations.

Cross-Platform Compatibility

Web-based GIS systems can be accessed from any device with a web browser, ensuring seamless integration into diverse workflows and IT environments.

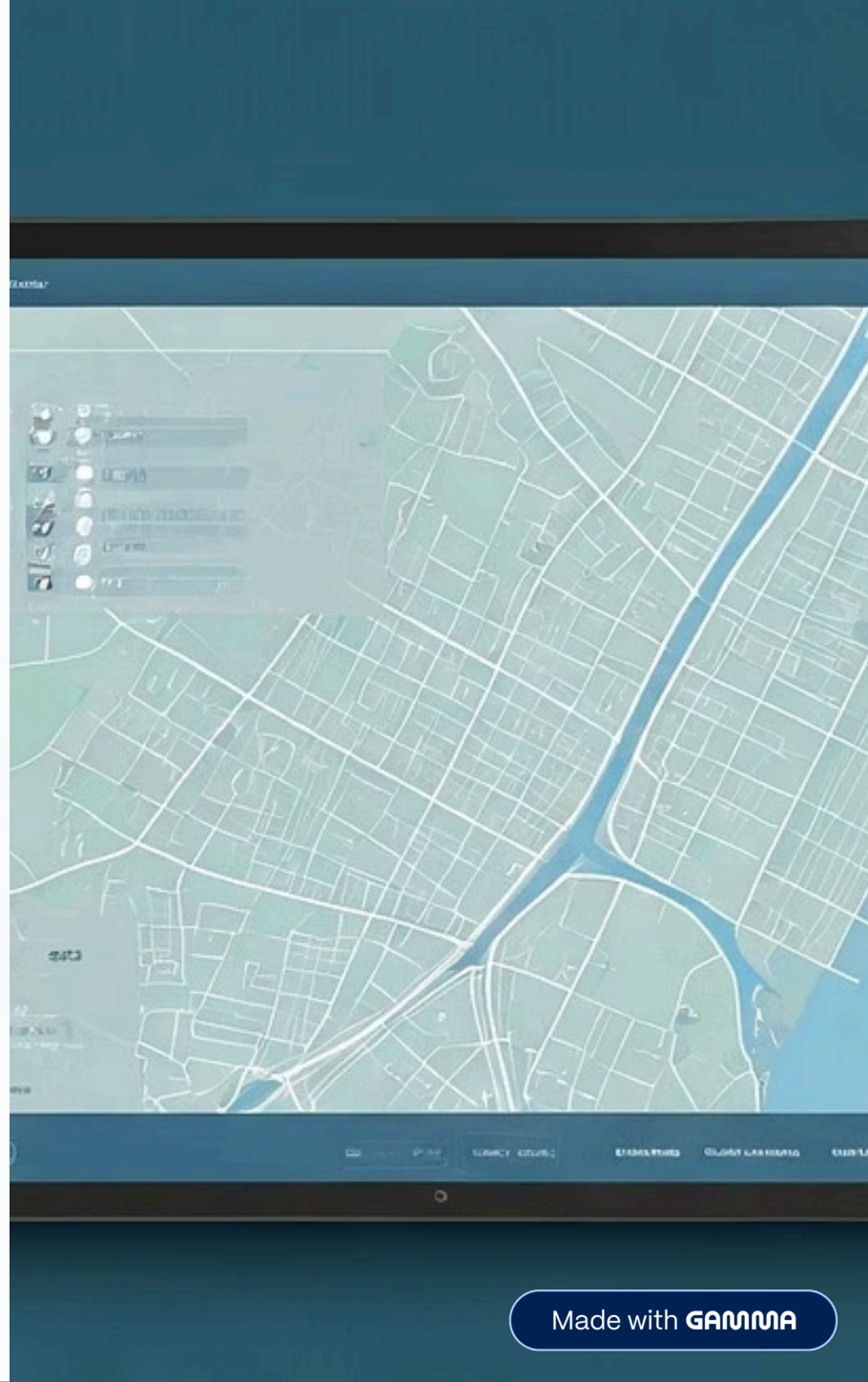

Made with GAMMA

OGC Standards

Open Geospatial Consortium (OGC)

The OGC is an international standards organization that develops and promotes interoperability standards for geospatial data and services. These standards are critical for enabling seamless integration and exchange of geographic information within web-based GIS platforms.

Key OGC Standards

- Web Map Service (WMS)
- Web Feature Service (WFS)
- Web Coverage Service (WCS)
- Sensor Observation Service (SOS)
- Web Processing Service (WPS)

Ensuring Interoperability

Adherence to OGC standards allows web-based GIS applications to communicate with a wide range of geospatial data sources and services, fostering a cohesive and interoperable ecosystem.

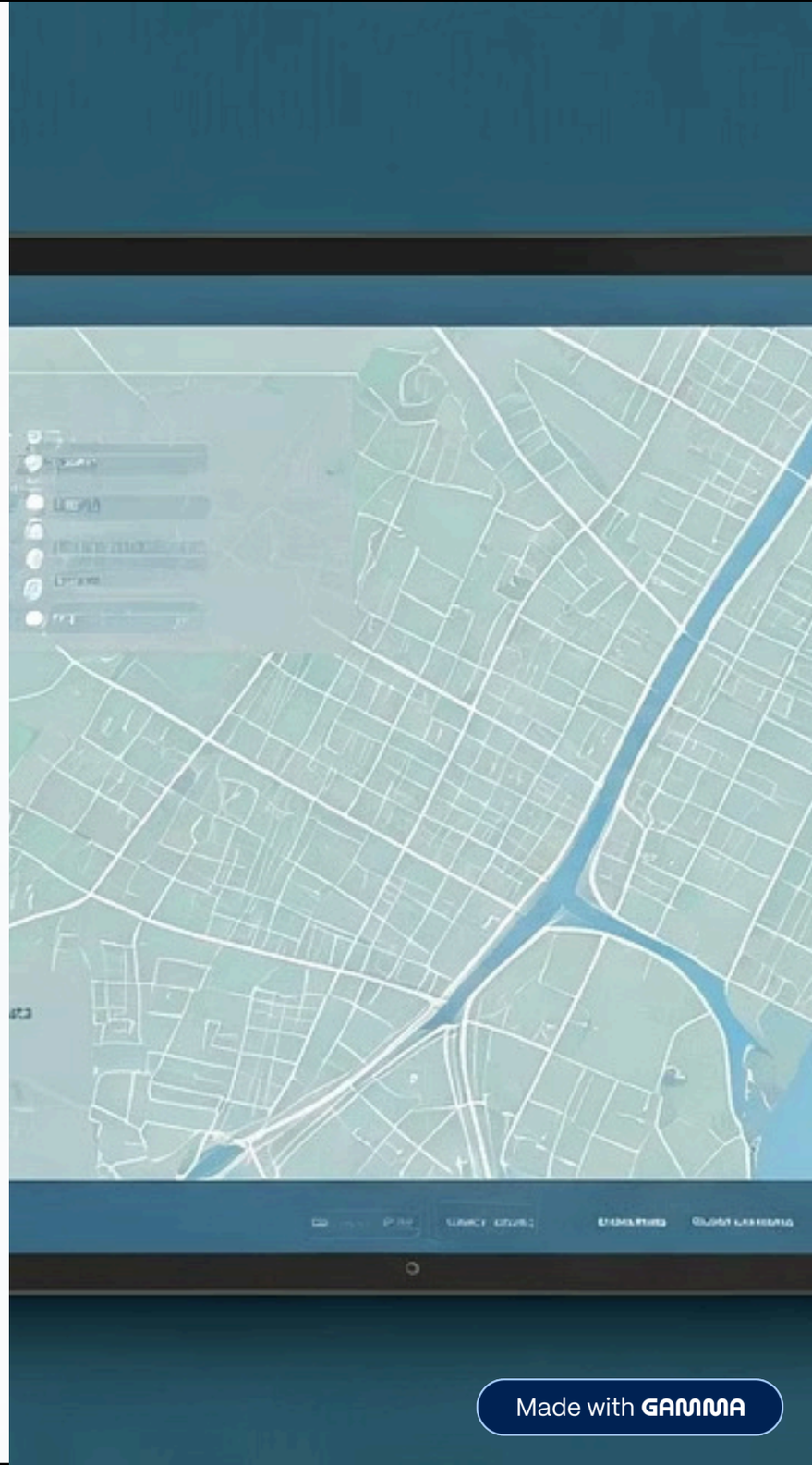

Made with GAMMA

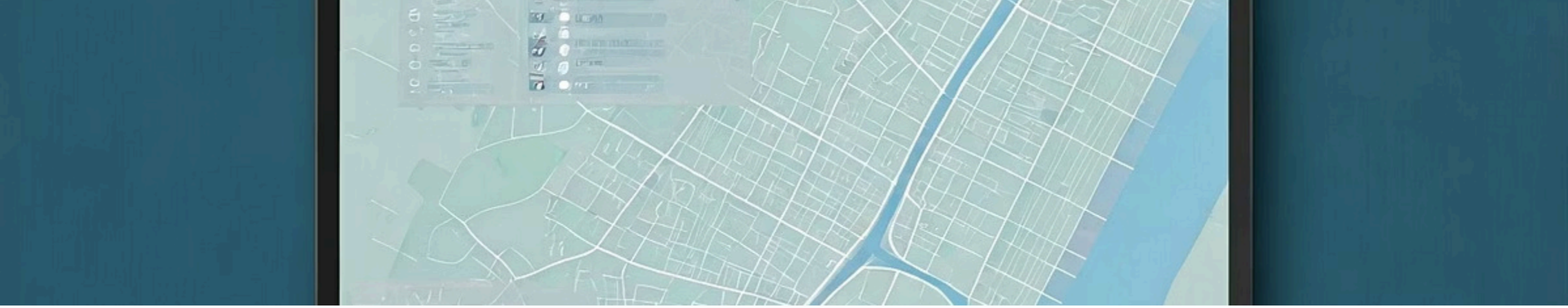

Map Services

Tile Services

Tile services provide pre-rendered map tiles that can be efficiently served and cached, enabling fast and responsive web-based map displays.

Feature Services

Feature services deliver vector-based geographic data, allowing users to query, filter, and analyze individual geographic features on the map.

Coverage Services

Coverage services offer access to raster-based geospatial data, such as satellite imagery, elevation models, and environmental sensor data, for advanced spatial analysis.

API-driven Services

Many web-based GIS platforms provide APIs that enable developers to integrate and customize map services within their own applications, further extending the reach and functionality of GIS technology.

Made with GAMMA

Components of a Web-Based GIS

Data Sources

- Spatial databases
- Geospatial data repositories
- Real-time sensor networks
- User-generated content

Server-side Components

- Map servers (e.g., GeoServer, ArcGIS Server)
- Spatial data services (e.g., WMS, WFS, WCS)
- Geoprocessing engines
- Middleware and integration layers

Client-side Components

- Web browsers and mobile apps
- Interactive map interfaces
- Visualization and analytical tools
- User interface frameworks

Made with GAMMA

Advantages of Web-Based GIS

Accessibility

Web-based GIS platforms can be accessed from any device with an internet connection, enabling users to engage with geospatial data and analysis tools from anywhere, at any time.

Cost-Effectiveness

Web-based GIS solutions often have a lower total cost of ownership compared to traditional desktop-based systems, as they eliminate the need for specialized hardware and software installations.

Collaboration

The web-based nature of GIS technology facilitates seamless collaboration, allowing multiple users to access, contribute, and analyze geospatial information simultaneously.

Rapid Updates

Web-based GIS systems can be quickly updated with the latest data and software enhancements, ensuring users always have access to the most current and accurate geospatial information.

Made with GAMMA

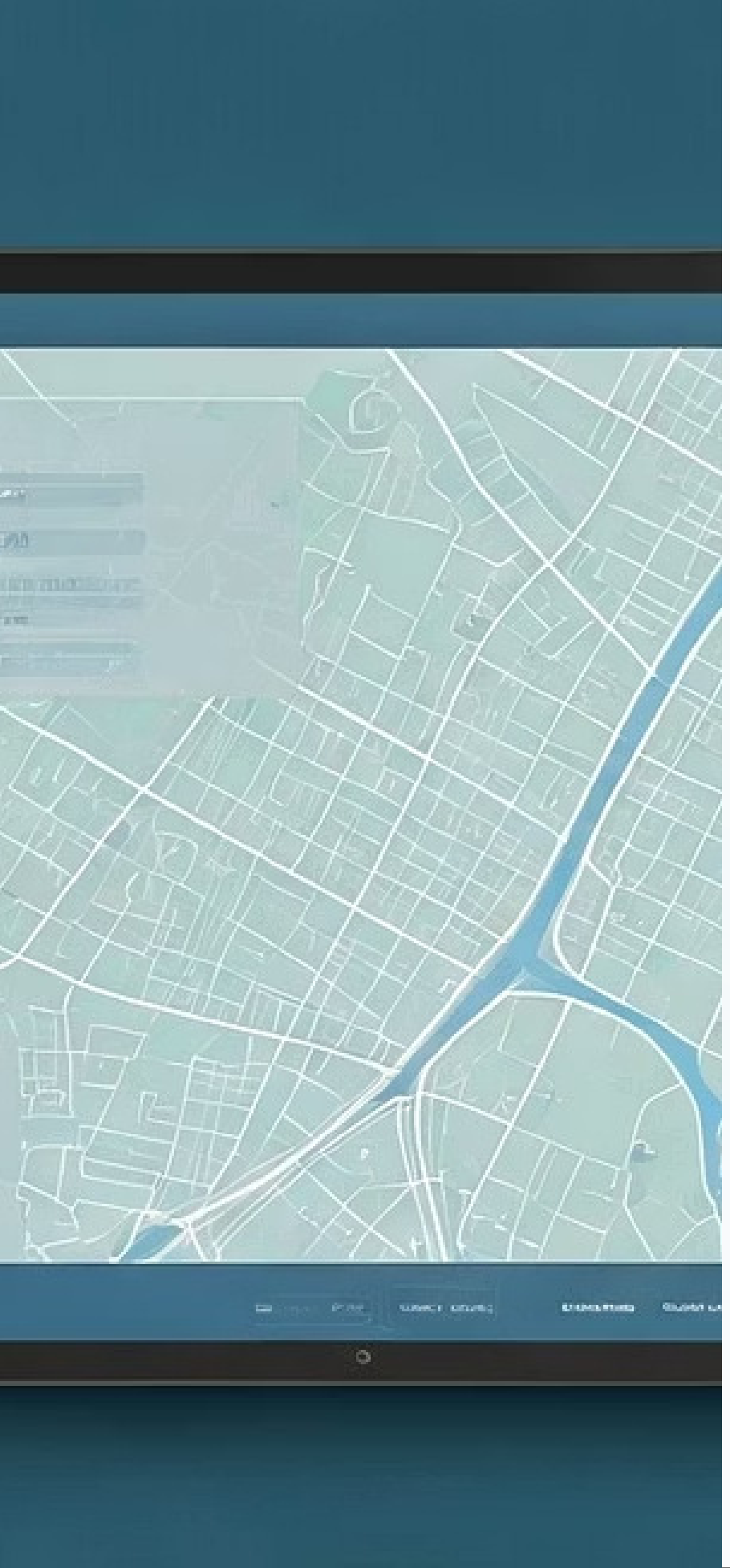

Challenges in Implementing Web-Based GIS

1 Data Integration

Seamlessly integrating diverse geospatial data sources and formats into a cohesive web-based GIS platform can be a complex and time-consuming process.

2 Security and Privacy

Ensuring the security and privacy of sensitive geospatial data is crucial, requiring robust authentication, authorization, and data protection measures.

3 Scalability and Performance

Web-based GIS systems must be able to handle increasing amounts of data and user traffic without compromising performance and responsiveness.

4 User Adoption and Training

Effective user adoption and training are essential to ensure that web-based GIS platforms are utilized to their full potential within an organization.

Made with GAMMA

Case Studies of Successful Web-Based GIS Applications

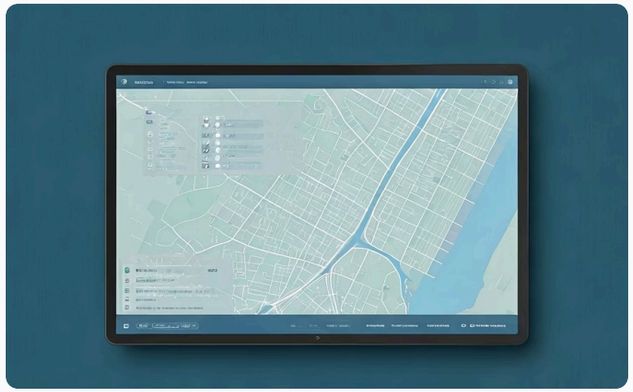

Urban Planning

Web-based GIS platforms have revolutionized urban planning by providing city officials and planners with interactive tools to visualize, analyze, and collaborate on projects. These applications integrate data from various sources, enabling informed decision-making and community engagement.

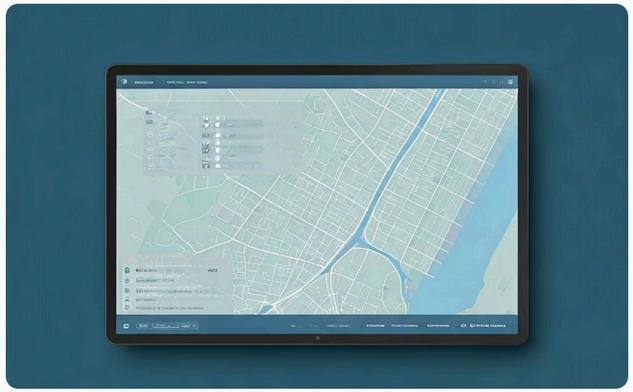

Environmental Monitoring

Web-based GIS systems have become indispensable for environmental agencies and organizations, allowing them to monitor, analyze, and communicate critical environmental data. These platforms facilitate the integration of real-time sensor data, satellite imagery, and other geospatial information to support environmental conservation and management efforts.

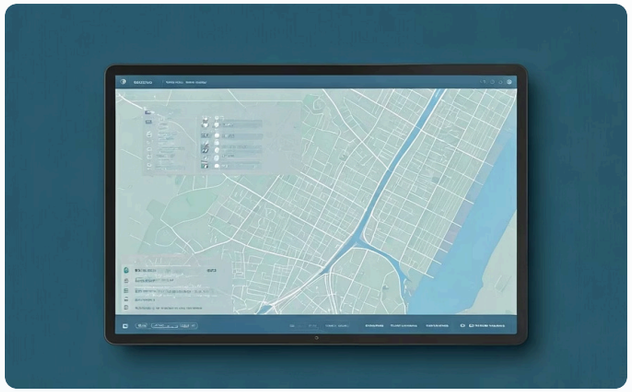

Public Safety

In the realm of public safety, web-based GIS applications provide emergency responders, law enforcement, and disaster management teams with valuable tools to coordinate and optimize their efforts. These platforms enable the visualization of incident locations, the deployment of resources, and the communication of critical information to the public.

Made with GAMMA

Future Trends and Developments in Web-Based GIS

1

Artificial Intelligence and Machine Learning

Integrating AI and machine learning algorithms into web-based GIS platforms will unlock new capabilities for predictive analysis, automated decision-making, and intelligent data processing.

2

Internet of Things (IoT) and Sensor Integration

The proliferation of IoT devices and sensors will enable web-based GIS applications to incorporate real-time, location-based data, enhancing monitoring, forecasting, and responsiveness to dynamic events.

3

Cloud-based Architectures

Leveraging cloud computing technologies will continue to drive the scalability, flexibility, and accessibility of web-based GIS solutions, reducing infrastructure costs and enabling on-demand geospatial services.

4

Increased Collaboration and Crowdsourcing

Web-based GIS platforms will foster greater collaboration and crowdsourcing of geographic data, empowering citizens, businesses, and organizations to contribute to and enhance the richness of geospatial information.

As the world becomes increasingly interconnected and data-driven, the future of web-based GIS holds immense promise. By embracing emerging technologies and fostering collaborative ecosystems, web-based GIS will continue to transform the way we understand, interact with, and make decisions about our physical world.

Made with GAMMA